Supplementary Material for: Demand Synchronization Dominates Urban Traffic Congestion: Evidence from 316 Million Observations across Three Indonesian Cities

Firman Hadi[a,*], Yasser Wahyuddin[a], L.M. Sabri[a], Agung Indrajit[b]

[a]*Department of Geodetic Engineering, Universitas Diponegoro, Semarang, Indonesia*

[b]*Deputy for Green and Digital Transformation, Nusantara Capital Authority, Indonesia*

S1. Spatial Weight Sensitivity Analysis

Following the OSM-based re-aggregation, we computed Moran's I under five spatial weight specifications for each city: K-nearest neighbours with $k \in \{4, 8, 12\}$ and distance-band weights at 500 m and 1000 m thresholds. All specifications confirm strong, statistically significant positive spatial autocorrelation.

Table S1: Moran's I under alternative spatial weight specifications (evening peak mean jam factor). All 15 city–weight combinations are highly significant ($p \approx 0$), confirming robust positive spatial autocorrelation across all weight specifications.

City	KNN k=4	KNN k=8	KNN k=12	Dist 500 m	Dist 1000 m
Semarang	0.347***	0.298***	0.270***	0.323***	0.288***
Bandung	0.355***	0.291***	0.248***	0.378***	0.309***
Jakarta	0.368***	0.310***	0.270***	0.362***	0.276***

*** $p < 0.001$ *for all entries. n: Semarang = 924, Bandung = 2,583, Jakarta = 13,201 segments.*

Moran's I values are remarkably consistent across weight specifications (range 0.248–0.378), indicating robust spatial autocorrelation that is not an artefact of a particular neighbourhood definition. The distance-band weights at 500 m and 1000 m yield comparable values to KNN specifications, confirming that the spatial structure persists at both local and broader spatial scales.

S2. Period-Specific Moran's I

Global Moran's I was computed separately for each of the eight temporal periods to assess whether spatial clustering varies by time of day. Spatial weights use KNN with k=8.

*Corresponding author.

Email address: firmanhadi21@lecturer.undip.ac.id (Firman Hadi)

Table S2: Moran's I by temporal period (KNN k=8). All 24 period–city combinations are highly significant ($p \approx 0$), confirming ubiquitous positive spatial autocorrelation across all times of day. Moran's I increases from night to evening peak, mirroring the temporal congestion gradient.

Period	Semarang	Bandung	Jakarta
Night	0.176***	0.196***	0.222***
Morning Peak	0.289***	0.224***	0.257***
Morning Off-Peak	0.280***	0.276***	0.280***
Lunch Hours	0.241***	0.282***	0.294***
Afternoon Off-Peak	0.266***	0.282***	0.306***
Evening Peak	0.298***	0.291***	0.310***
Evening Off-Peak	0.285***	0.265***	0.284***
Late Night	0.255***	0.222***	0.260***

*** $p < 0.001$ *for all entries.*

Moran's I ranges from 0.176 (Semarang, night) to 0.310 (Jakarta, evening peak), with a clear temporal gradient: spatial autocorrelation strengthens during peak hours and weakens at night. This pattern suggests that peak-hour congestion is more spatially structured than off-peak congestion, likely reflecting the concentration of commuting flows along predictable corridors.

S3. Getis-Ord Gi* Hot and Cold Spot Counts

Getis-Ord Gi* statistics were computed with KNN (k=8) binary weights and 999 permutations to triangulate the LISA findings reported in the main text.

Table S3: Getis-Ord Gi* hot and cold spot counts (evening peak, $p < 0.05$). Approximately 36% of segments are classified as significant hot or cold spots, with cold spots outnumbering hot spots in all three cities.

City	Hot Spots	Cold Spots	Not Significant	% Significant
Semarang	116 (12.6%)	222 (24.0%)	586 (63.4%)	36.6%
Bandung	392 (15.2%)	518 (20.1%)	1,673 (64.8%)	35.2%
Jakarta	2,063 (15.6%)	2,644 (20.0%)	8,494 (64.3%)	35.7%

Among hot spots, 1,037 (50.3%) in Jakarta, 170 (43.4%) in Bandung, and 47 (40.5%) in Semarang reach the stricter $p < 0.01$ threshold, indicating robust clustering. The overall proportion of significant segments (∼35–37%) is substantially higher than the ∼5% expected by chance, and consistent with the strong Moran's I values reported in Section S1.

S4. H3 Hexagonal Aggregation: Extended Results

This section provides extended results from the H3 hexagonal scale-sensitivity analysis described in Section 4.4 and reported in Section 5.6 of the main text. The Uber H3 hierarchical geospatial indexing system (Brodsky, 2018) was used to aggregate road-segment-level variables into regular hexagonal bins at two resolutions, testing whether the null correlations

observed at the segment level reflect genuine absence of relationships or a modifiable areal unit problem (MAUP) artefact.

S4.1. Hexagon Coverage Statistics

Table S4: H3 hexagon coverage by city and resolution. Resolution 8 (≈461 m diameter) captures neighbourhood-scale patterns; resolution 9 (≈174 m diameter) approximates block-level aggregation.

City	Resolution	Hexagons	Mean Segments/Hex	Mean Observations/Hex
Semarang	8 (≈461 m)	292	3.2	52,065
Semarang	9 (≈174 m)	572	1.6	26,573
Bandung	8 (≈461 m)	571	4.5	75,969
Bandung	9 (≈174 m)	1,415	1.8	30,680
Jakarta	8 (≈461 m)	2,000	6.6	103,019
Jakarta	9 (≈174 m)	6,202	2.1	33,274

The higher segment density per hexagon in Jakarta reflects its denser road network. At resolution 8, each hexagon contains sufficient observations (52,000–103,000) for stable mean estimates.

S4.2. POI and Centrality Correlations Across Spatial Scales

Table S5: Spearman correlations (ρ) between hex-level jam factor and spatial predictors at two H3 resolutions. Several correlations reach statistical significance at the hexagonal scale, particularly for Bandung and Semarang, though effect sizes remain modest ($|\rho| < 0.20$).

		POI Density		Betweenness Centrality	
City	Scale	ρ	p-value	ρ	p-value
Semarang	H3 Res. 9	−0.064	0.125	+0.098	0.019*
	H3 Res. 8	−0.193	0.001**	−0.010	0.865
Bandung	H3 Res. 9	+0.102	<0.001**	+0.093	<0.001**
	H3 Res. 8	+0.131	0.002**	+0.153	<0.001**
Jakarta	H3 Res. 9	+0.032	0.012*	+0.071	<0.001**
	H3 Res. 8	+0.018	0.423	+0.072	0.001**

* $p < 0.05$; ** $p < 0.01$

At the neighbourhood scale (resolution 8), Semarang shows a significant negative POI correlation ($\rho = -0.193$, $p = 0.001$), while Bandung exhibits the strongest positive associations for both POI density ($\rho = +0.131$) and centrality ($\rho = +0.153$). Jakarta's centrality correlation reaches significance ($\rho = +0.072$, $p = 0.001$) but remains practically negligible. These results suggest that the relationship between spatial predictors and congestion operates at the neighbourhood rather than segment scale, though effect sizes are uniformly modest.

Table S6: Global Moran's I for jam factor at three spatial scales. All three cities exhibit strong, statistically significant positive spatial autocorrelation at both the segment and hexagonal levels, with Moran's I increasing at coarser hexagonal resolutions due to smoothing of within-cell noise.

City	Scale	Moran's I	p-value
Semarang	Segment (KNN k=8)	+0.298	$\approx 0^{***}$
	H3 Res. 9	+0.345	0.001^{***}
	H3 Res. 8	+0.486	0.001^{***}
Bandung	Segment (KNN k=8)	+0.291	$\approx 0^{***}$
	H3 Res. 9	+0.351	0.001^{***}
	H3 Res. 8	+0.227	0.001^{***}
Jakarta	Segment (KNN k=8)	+0.310	$\approx 0^{***}$
	H3 Res. 9	+0.314	0.001^{***}
	H3 Res. 8	+0.247	0.001^{***}

*** $p < 0.001$

S4.3. Global Moran's I Across Spatial Scales

Strong spatial autocorrelation is now ubiquitous across all cities and scales (all $I > 0.22$, all $p = 0.001$). Semarang shows the strongest clustering at resolution 8 ($I = 0.486$), suggesting that neighbourhood-level aggregation reveals coherent congestion zones that are partially masked by segment-level heterogeneity. The consistent Moran's I values across scales confirm that congestion is genuinely spatially structured: segments and hexagons with elevated congestion tend to be surrounded by similarly congested neighbours. Importantly, this clustering is largely *not* explained by POI density or betweenness centrality (Table S5), suggesting that other spatial factors—such as land-use mix, population density, and public transit access—drive neighbourhood-level congestion patterns.

S5. Spatial Match Quality

The spatial join between HERE Traffic segments and OSMnx road network edges was validated by examining centroid-to-centroid match distances.

Table S7: Spatial match quality: HERE Traffic segments to OSM reference network. With OSM-based aggregation using composite segment IDs, median match distances are effectively zero, and >99% of segments match within 50 m.

City	n	Median (m)	% within 50 m	% within 100 m	% within 200 m
Semarang	1,225	0.0	99.3%	99.6%	99.8%
Bandung	3,404	0.0	99.5%	99.8%	100.0%
Jakarta	17,398	0.0	99.7%	99.8%	99.9%

The near-perfect match quality reflects the OSM-based aggregation pipeline, where HERE Traffic segments are directly matched to OSM reference geometries using composite segment identifiers derived from the OSM network. This eliminates the positional uncertainty inherent in the previous centroid-to-centroid spatial join approach.

S6. Spatial Regression Results

To properly account for spatial dependence, Spatial Lag and Spatial Error models (via PySAL's `spreg`) were estimated alongside OLS multiple regression. The dependent variable is mean evening-peak jam factor; independent variables are edge betweenness centrality and POI density within a 500 m buffer.

Table S8: Spatial regression results: jam factor $\sim$ betweenness centrality + POI density. Across all model specifications, R^2 values are negligible (<0.3%), confirming that spatial predictors explain virtually none of the congestion variance.

City	Model	R^2	β (betw.)	p	β (POI)	p	Spatial param.
Jakarta	OLS	0.003%	−0.048	0.635	0.000010	0.704	—
	Spatial Lag	0.006%	−0.337	0.168	−0.000005	0.899	$\rho = 2.731$
	Spatial Error	0.003%	−0.051	0.615	0.000009	0.708	$\lambda = 0.012$
Bandung	OLS	0.260%	0.270	0.005	−0.000010	0.803	—
	Spatial Lag	0.128%	0.231	0.064	−0.000000	0.996	$\rho = 0.350$
	Spatial Error	0.260%	0.269	0.005	−0.000010	0.817	$\lambda = 0.023$
Semarang	OLS	0.004%	−0.017	0.894	−0.000007	0.887	—
	Spatial Lag	0.013%	0.033	0.866	0.000055	0.706	$\rho = 2.568$
	Spatial Error	0.004%	−0.018	0.886	−0.000008	0.867	$\lambda = -0.034$

Bandung's OLS betweenness coefficient is statistically significant (p=0.005) but trivially small in magnitude ($R^2 = 0.26\%$). This significance vanishes in the Spatial Lag model (p=0.064), suggesting it is partially attributable to spatial dependence rather than a genuine centrality effect. The spatial autoregressive parameters (ρ, λ) are small, consistent with the weak predictor–congestion relationships reported in the main text and Table S1.

S7. Supplementary Figures

S7.1. Hotspot Maps

Figures S1–S2 show LISA cluster and Getis-Ord Gi* hotspot maps for the evening peak period for Bandung and Semarang. The main text includes the Jakarta hotspot map.

S7.2. H3 Hexagonal Aggregation Figures

S7.3. Capacity–Congestion Scatter Plots

S7.4. Bottleneck Capacity Comparison

S7.5. Capacity Drop Spatial Distribution

S7.6. Street Orientation Analysis

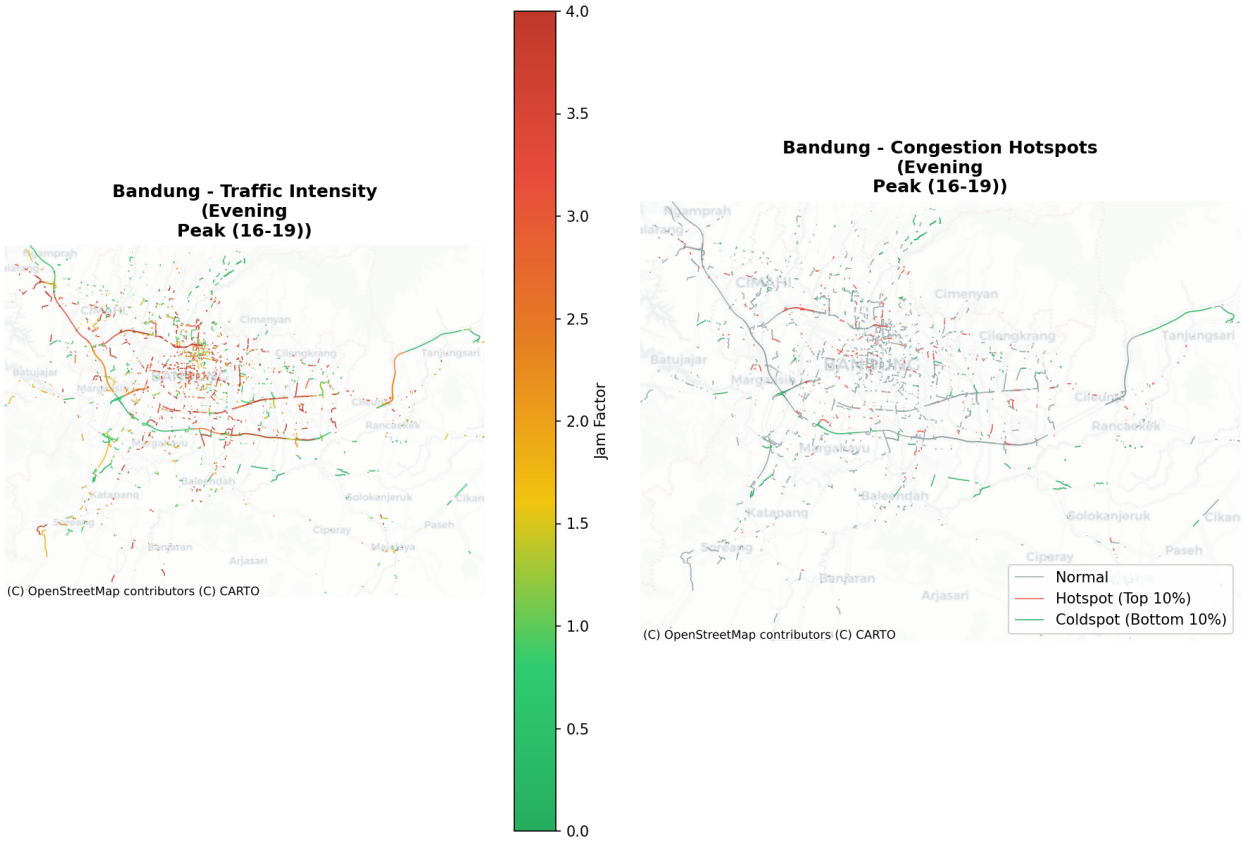

Figure S1: LISA cluster and Getis-Ord Gi* hotspot maps — Bandung (evening peak). Hot spots are concentrated along the northern industrial corridor (Jl. Soekarno-Hatta) and the Pasteur–Cipaganti commercial strip.

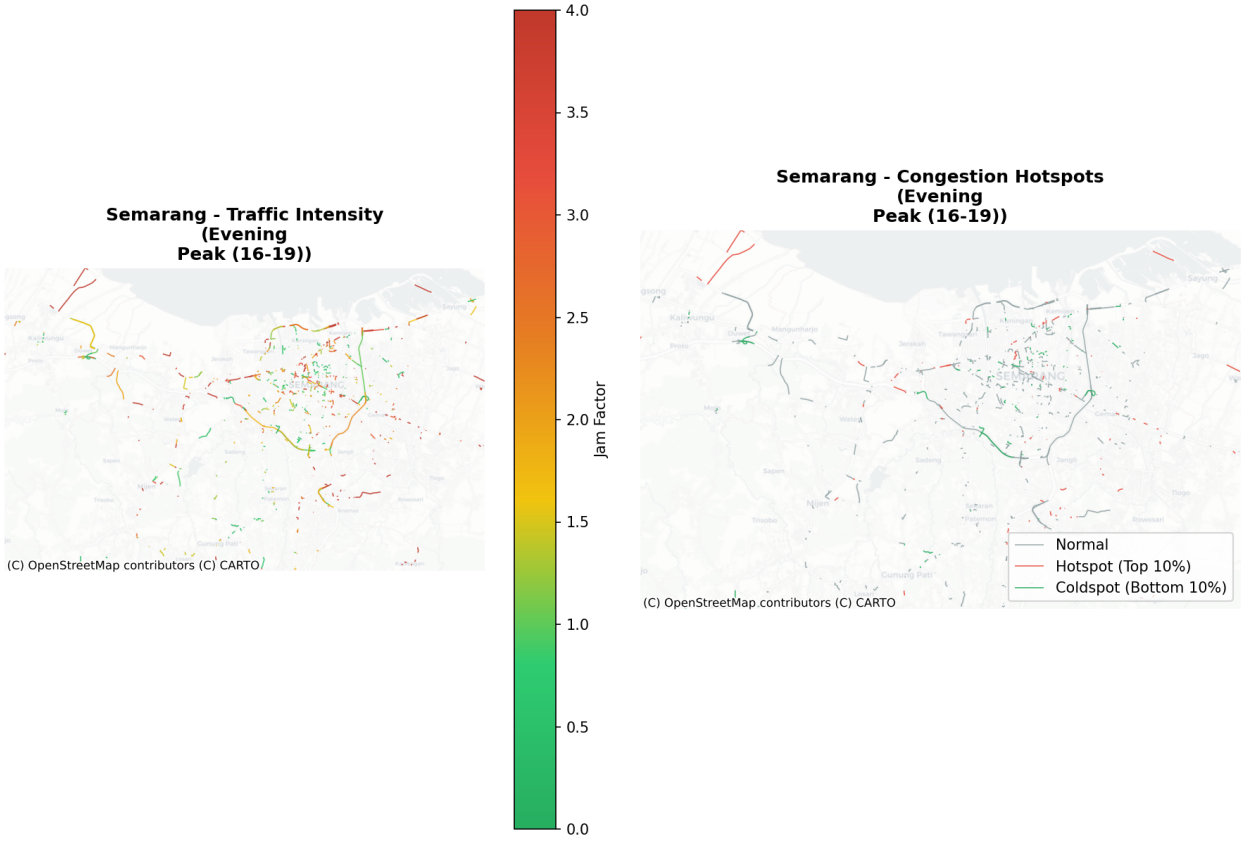

Figure S2: LISA cluster and Getis-Ord Gi* hotspot maps — Semarang (evening peak). Despite the smallest network (n=1,047), identifiable hot spots cluster around the Simpang Lima central roundabout and Jl. Pandanaran commercial corridor.

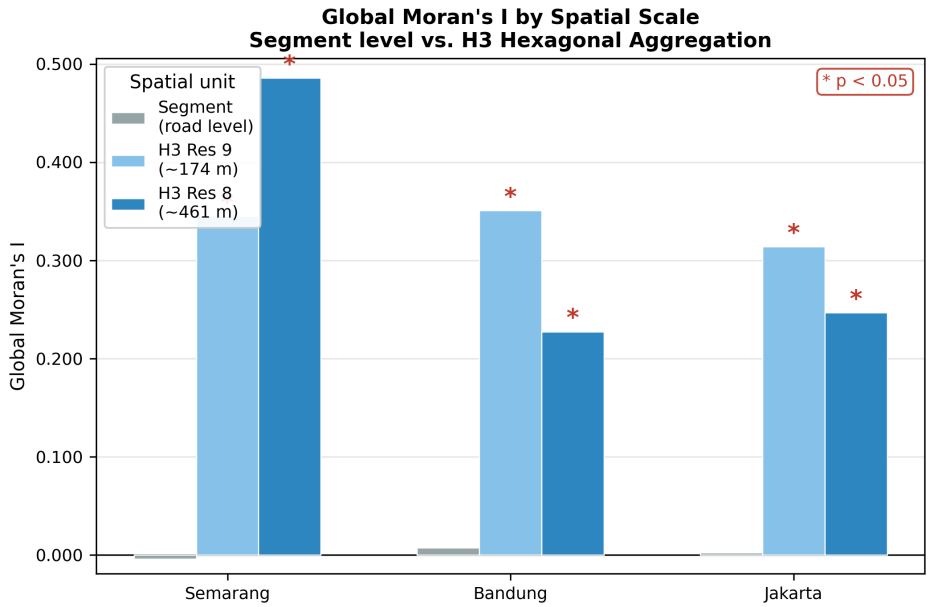

Figure S3: Global Moran's I by spatial scale for three cities. Bars show Moran's I at the road-segment level, H3 resolution 9 (≈174 m), and H3 resolution 8 (≈461 m). All values are highly significant ($p = 0.001$). Spatial autocorrelation is strong at all scales (all $I > 0.22$), with Semarang showing the strongest clustering at the neighbourhood scale ($I = 0.486$ at resolution 8).

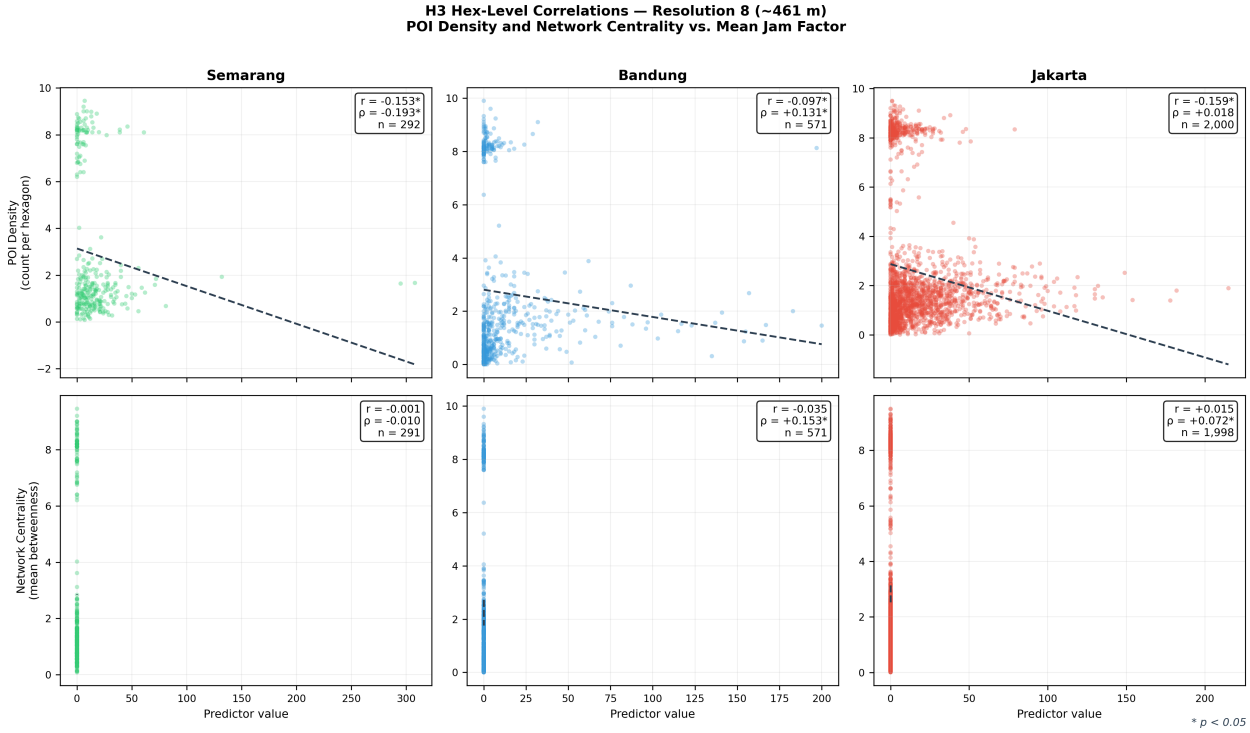

Figure S4: Scatter plots of POI density (top row) and network centrality (bottom row) versus hex-level mean jam factor at H3 resolution 8. Dashed lines show OLS regression fits. Pearson r and Spearman ρ are annotated per panel. Bandung shows the strongest correlations (POI $\rho = +0.131$, centrality $\rho = +0.153$), though effect sizes remain modest.

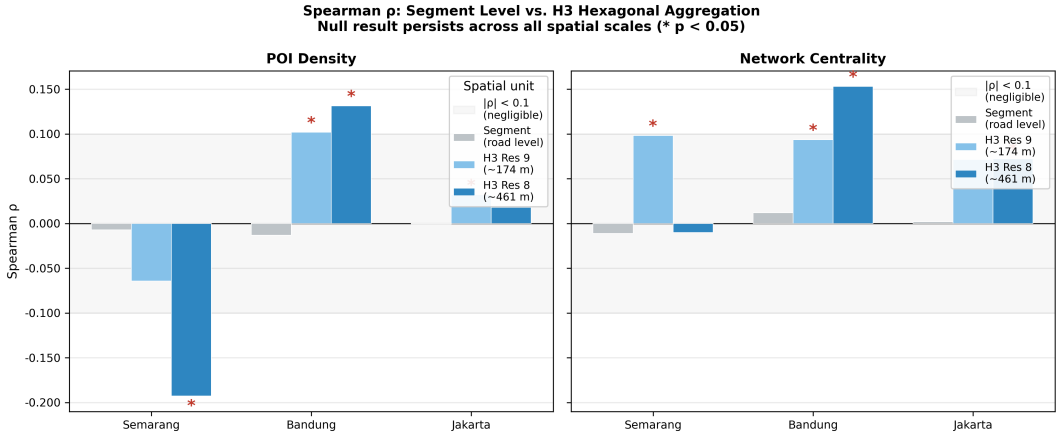

Figure S5: Spearman ρ for POI density (left) and network centrality (right) at three spatial scales: road segment, H3 resolution 9 ($\approx$174 m), and H3 resolution 8 ($\approx$461 m). The grey band marks the negligible-effect region ($|\rho| < 0.1$). While most correlations remain within the negligible band, Bandung's centrality ($\rho = +0.153$) and Semarang's POI density ($\rho = -0.193$) exceed this threshold at resolution 8, suggesting modest spatial predictor effects at the neighbourhood scale.

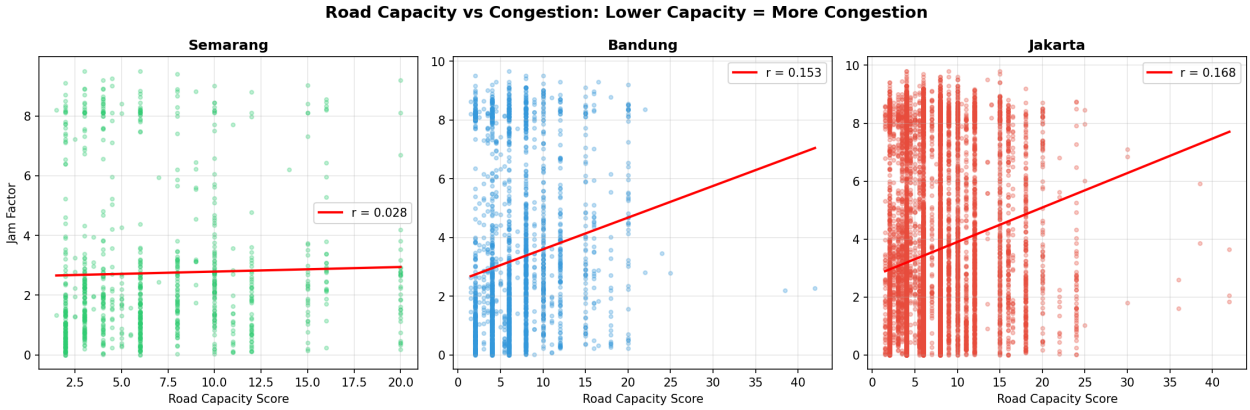

Figure S6: Scatter plots of road capacity (lanes $\times$ speed limit) versus mean evening-peak jam factor for all three cities. Points show individual road segments; LOESS curves confirm the flat capacity–congestion relationship.

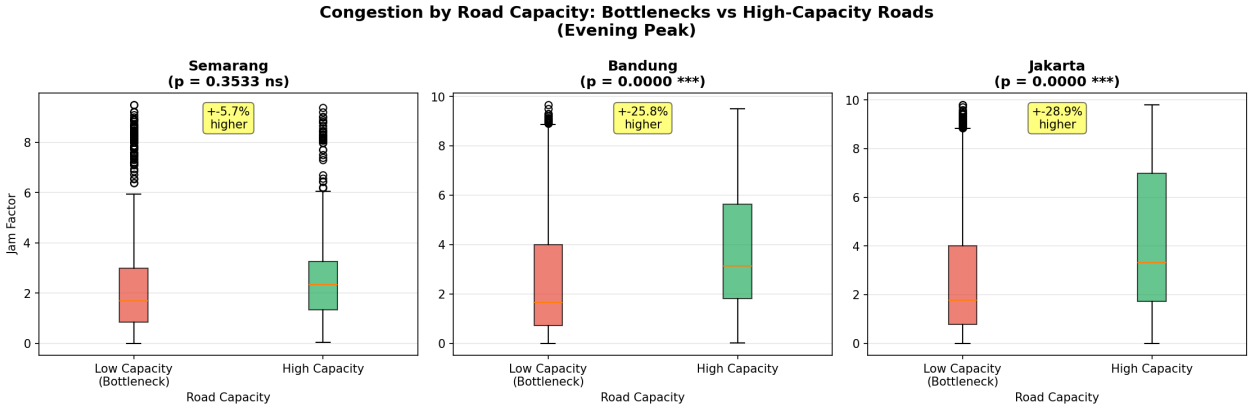

Figure S7: Bottleneck capacity comparison across cities. Box plots compare the distribution of road capacity attributes (number of lanes, speed limits) between bottleneck and non-bottleneck segments identified by the graph-based capacity drop detection algorithm.

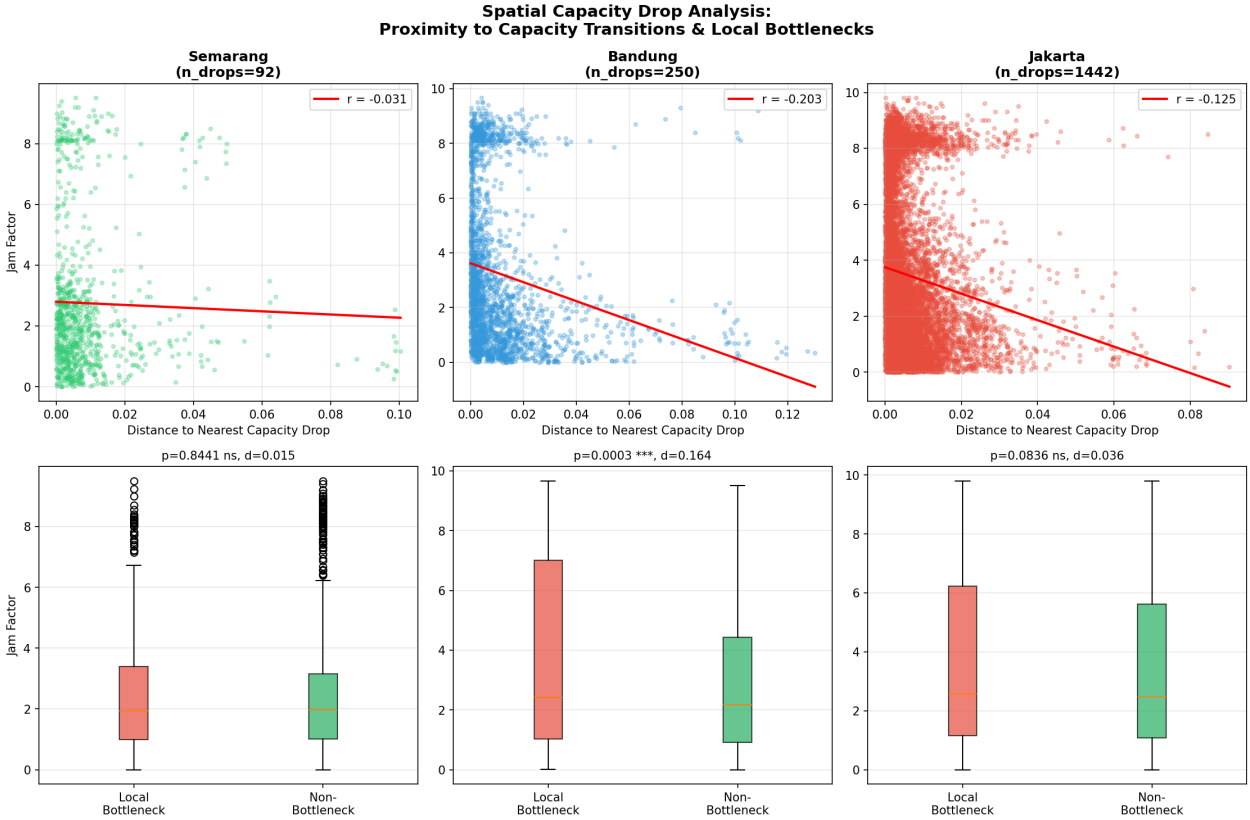

Figure S8: Spatial distribution of capacity drop segments across all three cities. Segments are classified by whether they exhibit a statistically significant capacity drop (jam factor increase when transitioning from high-capacity to lower-capacity downstream segments).

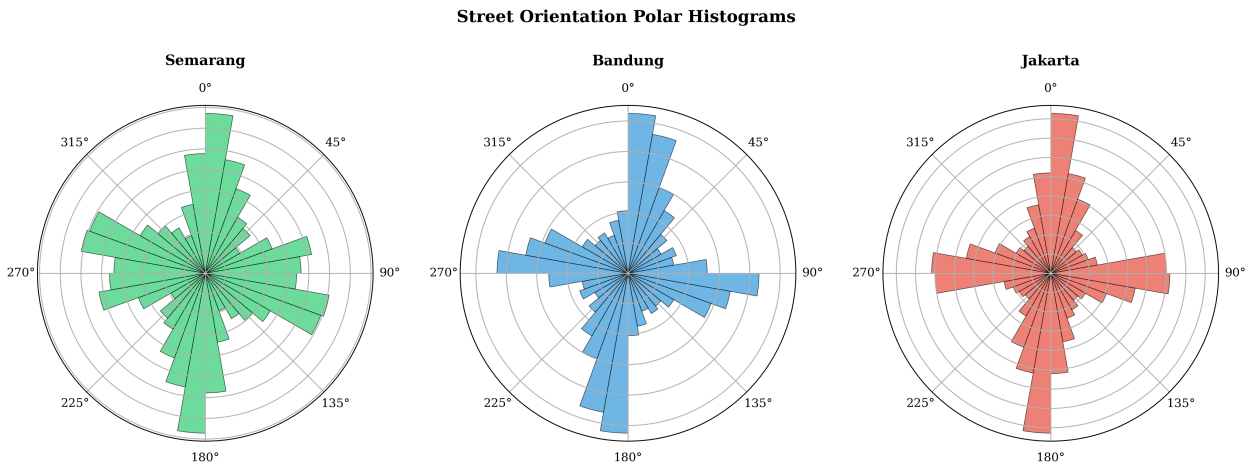

Figure S9: Street orientation polar plots for Jakarta, Bandung, and Semarang. Jakarta shows a pronounced grid pattern with dominant N–S and E–W orientations; Bandung and Semarang show more heterogeneous orientations reflecting their topographic constraints.